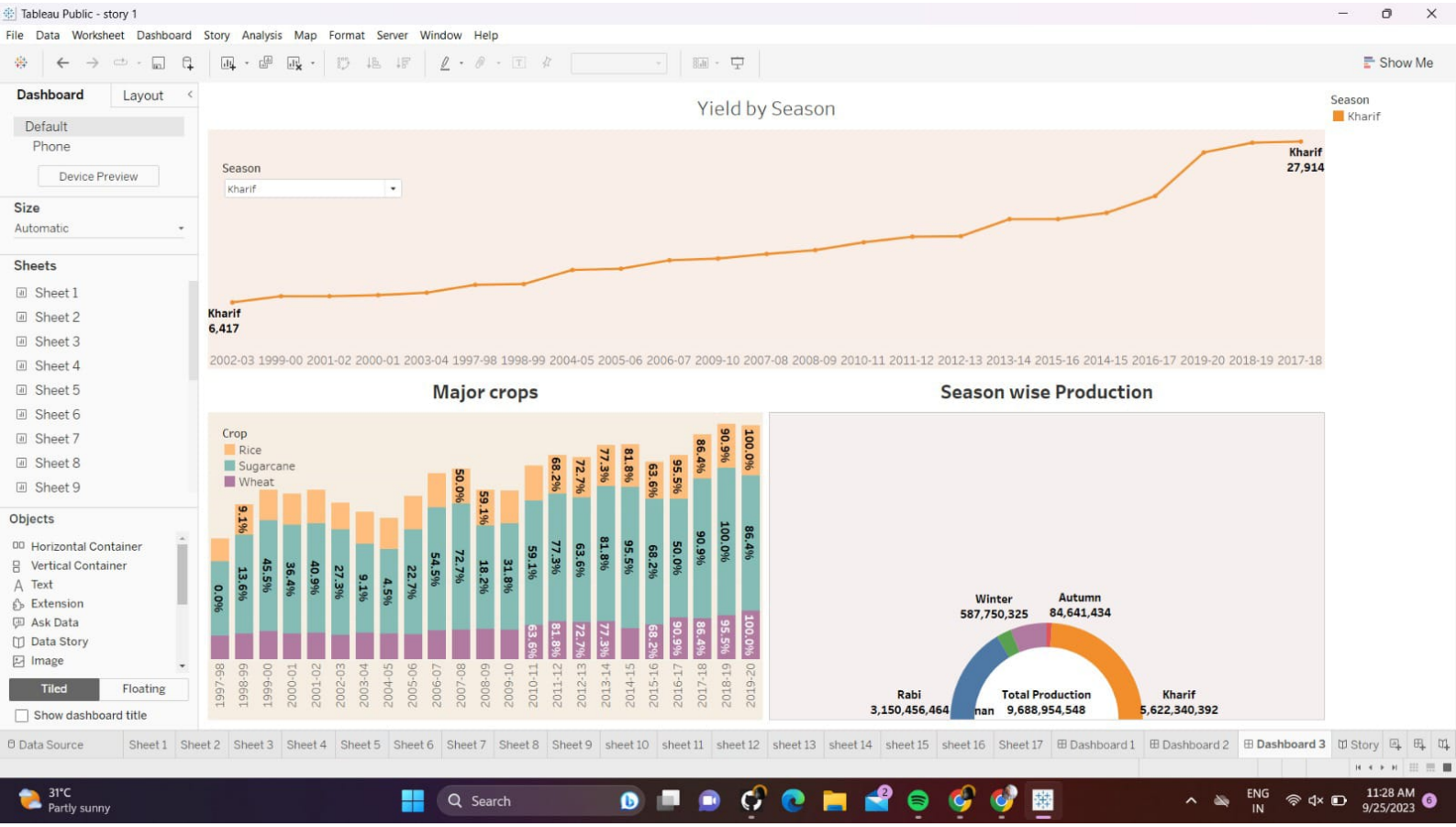
Tableau Public - story 1
File Data Worksheet Dashboard Story Analysis Map Format Server Window Help
Show Me
Dashboard
Layout
Default
Phone
Device Preview
Size
Automatic
Sheets
Sheet 1
Sheet 2
Sheet 3
Sheet 4
Sheet 5
Sheet 6
Sheet 7
Sheet 8
Sheet 9
Objects
Horizontal Container
Vertical Container
Text
Extension
Ask Data
Data Story
Image
Tiled
Floating
Show dashboard title
Yield by Season
Season
Kharif
Kharif
27,914
Kharif
6,417
2002-03 1999-00 2001-02 2000-01 2003-04 1997-98 1998-99 2004-05 2005-06 2006-07 2009-10 2007-08 2008-09 2010-11 2011-12 2012-13 2013-14 2015-16 2014-15 2016-17 2019-20 2018-19 2017-18
Major crops
Crop
Rice
Sugarcane
Wheat
Season wise Production
Winter
587,750,325
Autumn
84,641,434
Rabi
3,150,456,464
Total Production
9,688,954,548
Kharif
5,622,340,392
Data Source
Sheet 1
Sheet 2
Sheet 3
Sheet 4
Sheet 5
Sheet 6
Sheet 7
Sheet 8
Sheet 9
sheet 10
sheet 11
sheet 12
sheet 13
sheet 14
sheet 15
sheet 16
Sheet 17
Dashboard 1
Dashboard 2
Dashboard 3
Story
31°C
Partly sunny
Search
ENG
IN
11:28 AM
9/25/2023

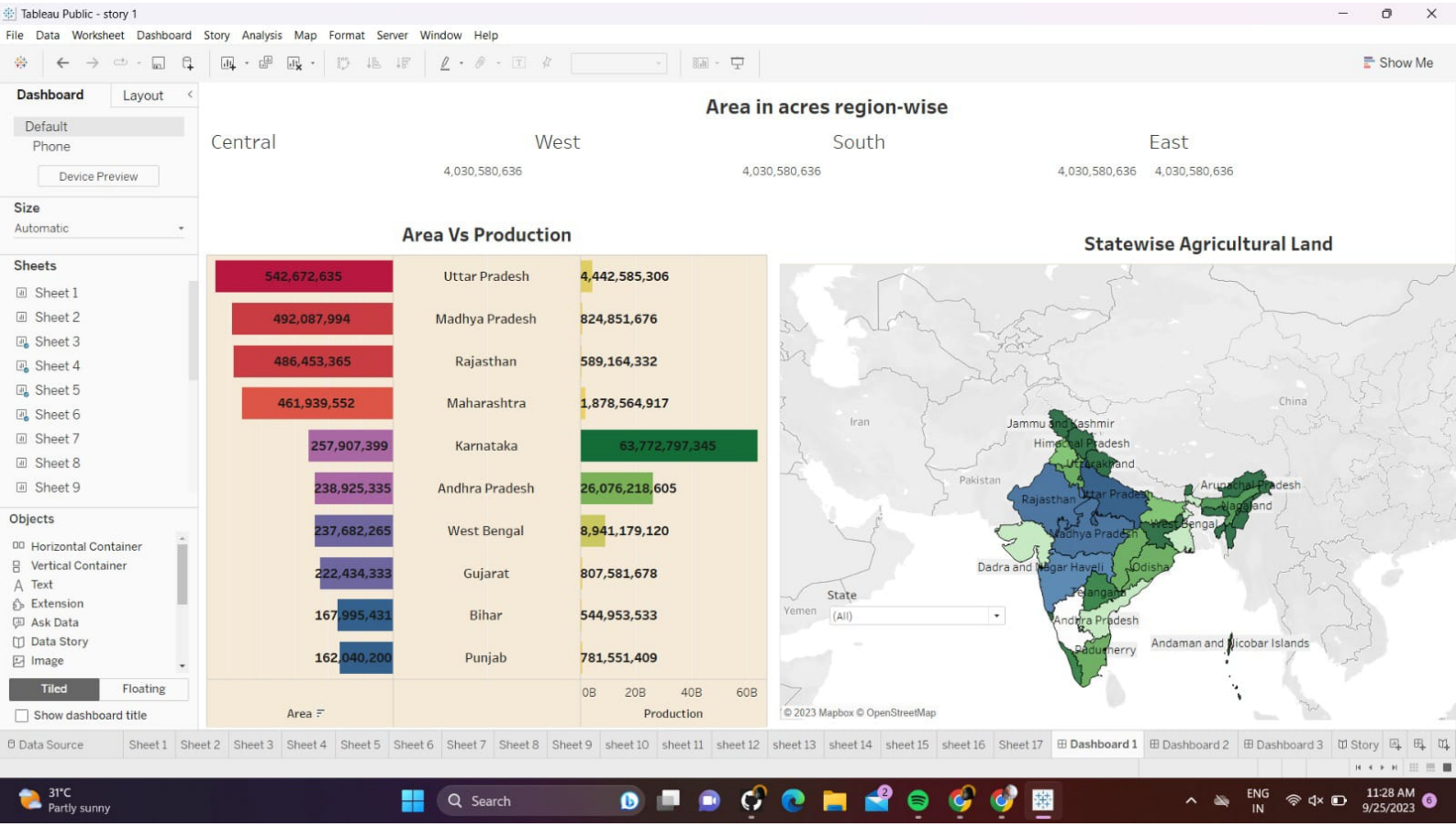
Tableau Public - story 1
File Data Worksheet Dashboard Story Analysis Map Format Server Window Help
Show Me
Dashboard
Layout
Default
Phone
Device Preview
Size
Automatic
Sheets
Sheet 1
Sheet 2
Sheet 3
Sheet 4
Sheet 5
Sheet 6
Sheet 7
Sheet 8
Sheet 9
Objects
Horizontal Container
Vertical Container
Text
Extension
Ask Data
Data Story
Image
Tiled
Floating
Show dashboard title
Area in acres region-wise
Central
West
South
East
4,030,580,636
4,030,580,636
4,030,580,636
4,030,580,636
Area Vs Production
542,672,635 Uttar Pradesh 4,442,585,306
492,087,994 Madhya Pradesh 824,851,676
486,453,365 Rajasthan 589,164,332
461,939,552 Maharashtra 1,878,564,917
257,907,399 Karnataka 63,772,797,345
238,925,335 Andhra Pradesh 26,076,218,605
237,682,265 West Bengal 8,941,179,120
222,434,333 Gujarat 807,581,678
167,995,431 Bihar 544,953,533
162,040,200 Punjab 781,551,409
0B 20B 40B 60B
Area
Production
Statewise Agricultural Land
Iran
China
Pakistan
Jammu and Kashmir
Himachal Pradesh
Uttarakhand
Rajasthan
Uttar Pradesh
Arunachal Pradesh
Nagaland
West Bengal
Madhya Pradesh
Dadra and Nagar Haveli
Odisha
Telangana
Andhra Pradesh
Puducherry
Andaman and Nicobar Islands
Yemen
State
(All)
© 2023 Mapbox © OpenStreetMap
Data Source
Sheet 1 Sheet 2 Sheet 3 Sheet 4 Sheet 5 Sheet 6 Sheet 7 Sheet 8 Sheet 9 sheet 10 sheet 11 sheet 12 sheet 13 sheet 14 sheet 15 sheet 16 Sheet 17 Dashboard 1 Dashboard 2 Dashboard 3 Story
31°C
Partly sunny
Search
ENG
IN
11:28 AM
9/25/2023

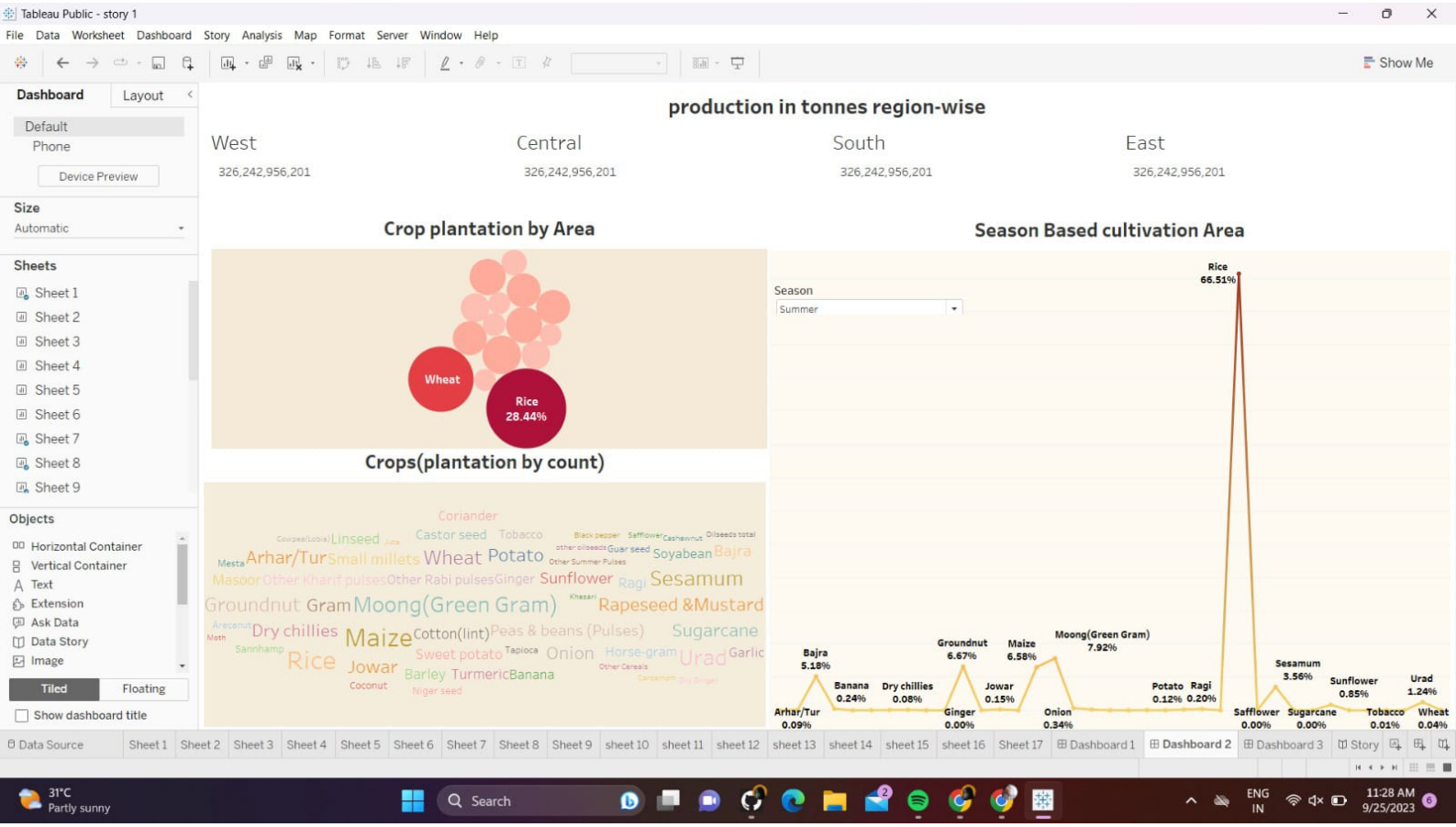
Tableau Public - story 1
File Data Worksheet Dashboard Story Analysis Map Format Server Window Help
Show Me
Dashboard
Layout
Default
Phone
Device Preview
Size
Automatic
Sheets
Sheet 1
Sheet 2
Sheet 3
Sheet 4
Sheet 5
Sheet 6
Sheet 7
Sheet 8
Sheet 9
Objects
Horizontal Container
Vertical Container
Text
Extension
Ask Data
Data Story
Image
Tiled
Floating
Show dashboard title
production in tonnes region-wise
West
326,242,956,201
Central
326,242,956,201
South
326,242,956,201
East
326,242,956,201
Crop plantation by Area
Wheat
Rice
28.44%
Crops(plantation by count)
Coriander
Castor seed
Tobacco
Linseed
Arhar/Tur
Small millets
Wheat
Potato
Soyabean
Bajra
Sunflower
Sesamum
Groundnut
Gram
Moong(Green Gram)
Rapeseed &Mustard
Dry chillies
Maize
Cotton(lint)
Peas & beans (Pulses)
Sugarcane
Rice
Jowar
Sweet potato
Onion
Horse-gram
Urad
Garlic
Barley
Turmeric
Banana
Coconut
Season Based cultivation Area
Season
Summer
Rice 66.51%
Bajra 5.18%
Banana 0.24%
Dry chillies 0.08%
Groundnut 6.67%
Jowar 0.15%
Maize 6.58%
Moong(Green Gram) 7.92%
Potato 0.12%
Ragi 0.20%
Sesamum 3.56%
Sunflower 0.85%
Urad 1.24%
Arhar/Tur 0.09%
Ginger 0.00%
Onion 0.34%
Safflower 0.00%
Sugarcane 0.00%
Tobacco 0.01%
Wheat 0.04%
Data Source
Sheet 1
Sheet 2
Sheet 3
Sheet 4
Sheet 5
Sheet 6
Sheet 7
Sheet 8
Sheet 9
sheet 10
sheet 11
sheet 12
sheet 13
sheet 14
sheet 15
sheet 16
Sheet 17
Dashboard 1
Dashboard 2
Dashboard 3
Story
31°C
Partly sunny
Search
ENG
IN
11:28 AM
9/25/2023